EU Launch & Expansion Weekly Portfolio Flash Report

amazon EU LAUNCH EXPANSION

WEEK: 26

Plan Date:
- New launch - Q3G
- Expansion - OP2

New Launch

2021

Q3G Plan	124	Tracking	128	Delta	4
COMPLETED		13			

DS Welfare Expansions

2021/22

OP2 Plan	79	Tracking	63	Delta	-16
COMPLETED		1			

Parking

2021

Type	DA Parking No. Sites - Full Solve	DA Parking No. Sites - Partial Solve	DA Parking No. Sites - Without Solve	SA Parking No. Sites - Full Solve	SA Parking No. Sites - Partial Solve	SA Parking No. Sites - Without Solve
Peak	180	40	57	169	7	101
Long Term	65	79	133	144	7	126
	COMPLETED	13		COMPLETED	0	

Executive Summary

TIn Peak Week 2021, shipments in the EU are expected to grow to **19.95M** as per P20 Q3G Plan. The AMZL EU Launch & Expansion team will solve the high forecast by launching **124** new buildings across **10** different EU counties.

Currently the launch team are tracking **128** *(-2)* sites launches, of which there are **81 AMZL** *(-2)* sites and **47 AMPL** *(=)* sites.

Of the 128 sites, there are **8** *(+1)* sites that are flagging red status, **14** *(-5)* yellow status and **92** *(+1)* green status. There is also **1** *(=)* backup site options included.

To date there have been **13** *(+1)* site launches achieved, 5 DS in Germany, 1 DS in Austria, 3 DS in Italy, 2 DS in Spain, 1 DS in France and 1 MDS in Germany.

Executive Summary

In 2021, the OP2 plan forecast 79 DS welfare expansions sites for delivery across 6 EU Countries.

After further review and prioritisation, there are currently 63 (-1) sites tracking for delivery in 2021.

The UK has committed to deliver 13 (-1) DS welfare expansion sites, Ireland has committed to deliver 1 (=) site, SEU has committed to deliver 29 (=) sites and MEU has committed to deliver 20 (+2) sites.

Of the 63 sites that are tracking, there are **2** *(+1)* sites that are flagged red status for delivery in 2021, **51** *(-1)* yellow sites and **9** *(-1)* green sites.

To date, there has been **1** site completed in the UK.

Executive Summary

For **Peak DA Parking**, there are **180** *(+2)* sites that have a full parking space solve, **40** *(-1)* sites that have a partial solve and **57** *(-4)* sites that do not currently have a solve. The total number of spaces that are to be identified to solve all site gaps is **12,096** *(+319)* spaces. There is line of sight (LoS) to 16,995 *(-80)* spaces, of which **82** *(=%)* are tracking green and **14%** *(=%)* tracking yellow.

For **Long Term DA Parking**, there are **65** *(-10)* sites that have a full parking space solve, **79** *(+2)* sites that have a partial solve and **133** *(+5)* sites that do not currently have a solve. The total number of spaces that are to be identified to solve all site gaps is **54,026** *(-60)* spaces. There is LoS to 38,298 *(-913)* spaces, of which **75%** *(+1%)* are tracking green, **19%** *(-1%)* tracking yellow and **3%** *(=%)* tracking red.

For **Peak SA Parking**, there are **169** *(+59)* sites that have a full parking space solve, **7** *(+3)* sites that have a partial solve and **101** *(-55)* sites that do not currently have a solve. The total number of spaces that are to be identified to solve all site gaps is **6,633** *(+4,168)* spaces. There is LoS to 1,589 *(+81)* spaces, of which **92%** *(=%)* are tracking green and **3%** *(=)* are tracking yellow..

For **Long Term SA Parking**, there are **144** *(-11)* sites that have a full parking space solve, **7** *(=)* sites that have a partial solve and **126** *(+8)* sites that do not currently have a solve. The total number of spaces that are to be identified to solve all site gaps is **13,675** *(+430)* spaces. There is LoS to 2,822 *(+110)* spaces, of which **87%** *(+1%)* are tracking green and **10%** *(-1%)* are tracking yellow.

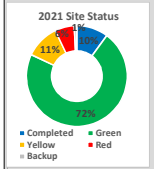

Country	Q3G Plan	Tracking	Backup	Delta
UK	27	24	0	-3
IE	2	2	0	0
DE	28	31	0	3
AT	8	9	0	1
NL	1	0	0	-1
IT	14	15	0	1
ES	22	23	0	1
FR	17	19	0	2
BE	4	4	0	0
TR	1	1	0	0

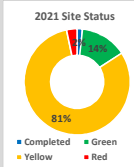

Country	OP2 Plan	Tracking	Delta
UK	30	14	-16
IE	1	1	0
DE	13	19	6
AT	0	1	1
IT	11	10	-1
ES	13	7	-6
FR	11	11	0

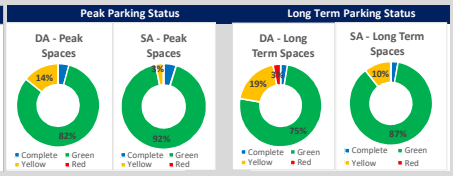

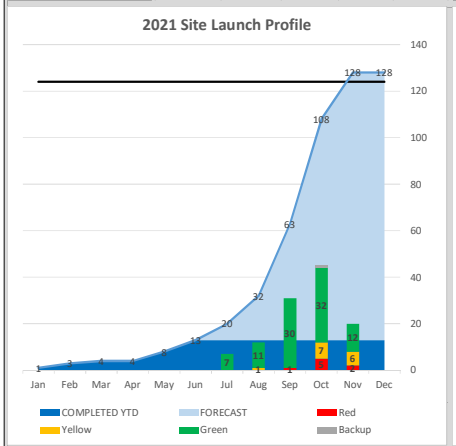

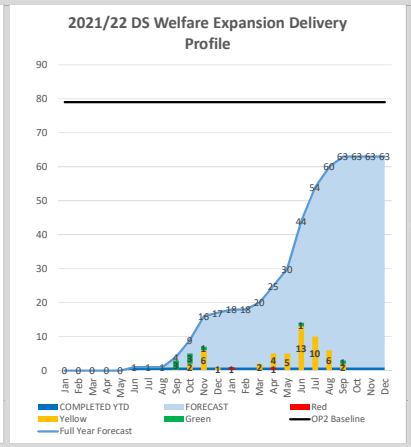

Peak Parking		No. Sites - Full Solve	No. Sites - Partial Solve	No. Sites - Without Solve	Spaces Delta
DA	EU	180	40	57	- 12,096
	UK	45	23	20	- 4,457
	MEU	70	6	16	- 2,246
	IT	28	2	9	- 2,460
	FR	16	5	5	- 1,058
	ES	21	4	7	- 1,875
SA	EU	169	7	101	- 6,633
	UK	43	5	40	- 2,349
	MEU	87	-	5	- 43
	IT	12	-	27	- 2,271
	FR	13	-	13	- 491
	ES	14	2	16	- 1,479

Long Term Parking		No. Sites - Full Solve	No. Sites - Partial Solve	No. Sites - Without Solve	Spaces Delta
DA	EU	65	79	133	- 54,026
	UK	22	20	46	- 21,346
	MEU	20	25	47	- 13,734
	IT	9	17	13	- 8,192
	FR	3	11	12	- 7,726
	ES	11	6	15	- 3,028
SA	EU	144	7	126	- 13,675
	UK	33	2	53	- 7,157
	MEU	82	-	10	- 196
	IT	11	-	28	- 3,267
	FR	4	1	21	- 1,914
	ES	14	4	14	- 1,141

2022

Plan	114	Tracking	139	Delta	25

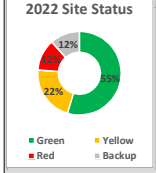

Country	SPS	Tracking	Backup	Delta
UK	25	29	0	4
IE	2	1	0	-1
DE	21	33	1	12
AT	4	2	0	-2
NL	1	2	0	1
IT	20	19	0	-1
ES	19	23	3	4
FR	18	19	5	1
BE	1	3	1	2
TR	3	2	1	-1
PT	0	6	5	6

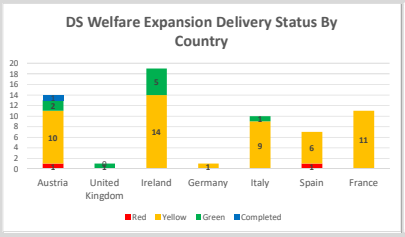

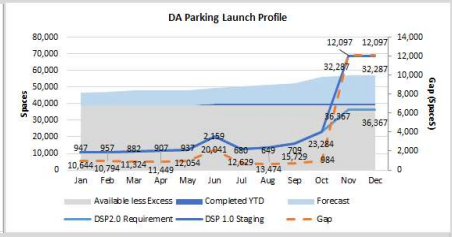

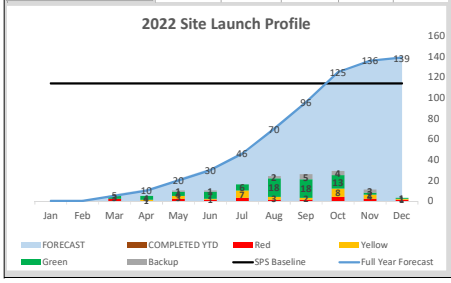

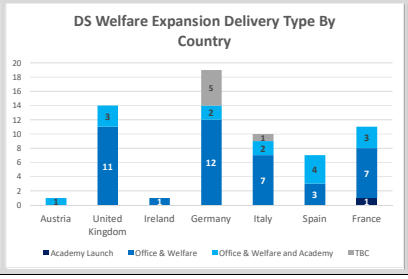

Definitions:

Full Solve: **Remaining Gap is 0**
Partial Solve: **Line of Sight is >0 and Remaining Gap is <0 (i.e. still a gap)**
Without a solve: **Line of sight is 0 and Remaining Gap is <0 (i.e. still a gap)**

DS Welfare Expansions RAG definitions:
GREEN - All expansion works before peak AND/OR no risks for peak and therefore no mitigation needed.
AMBER - Expansion finishing not before peak BUT we'd have mitigations in place for peak via temporary solves or program mitigations (path to green).
RED - Expansion not finishing before peak AND not mitigations available. Meaning no project should stay red during weeks and we'd have to find a path back to amber.